+ - Reset

Summary Details Filling Report Water Grid GIS View

Andhra Pradesh

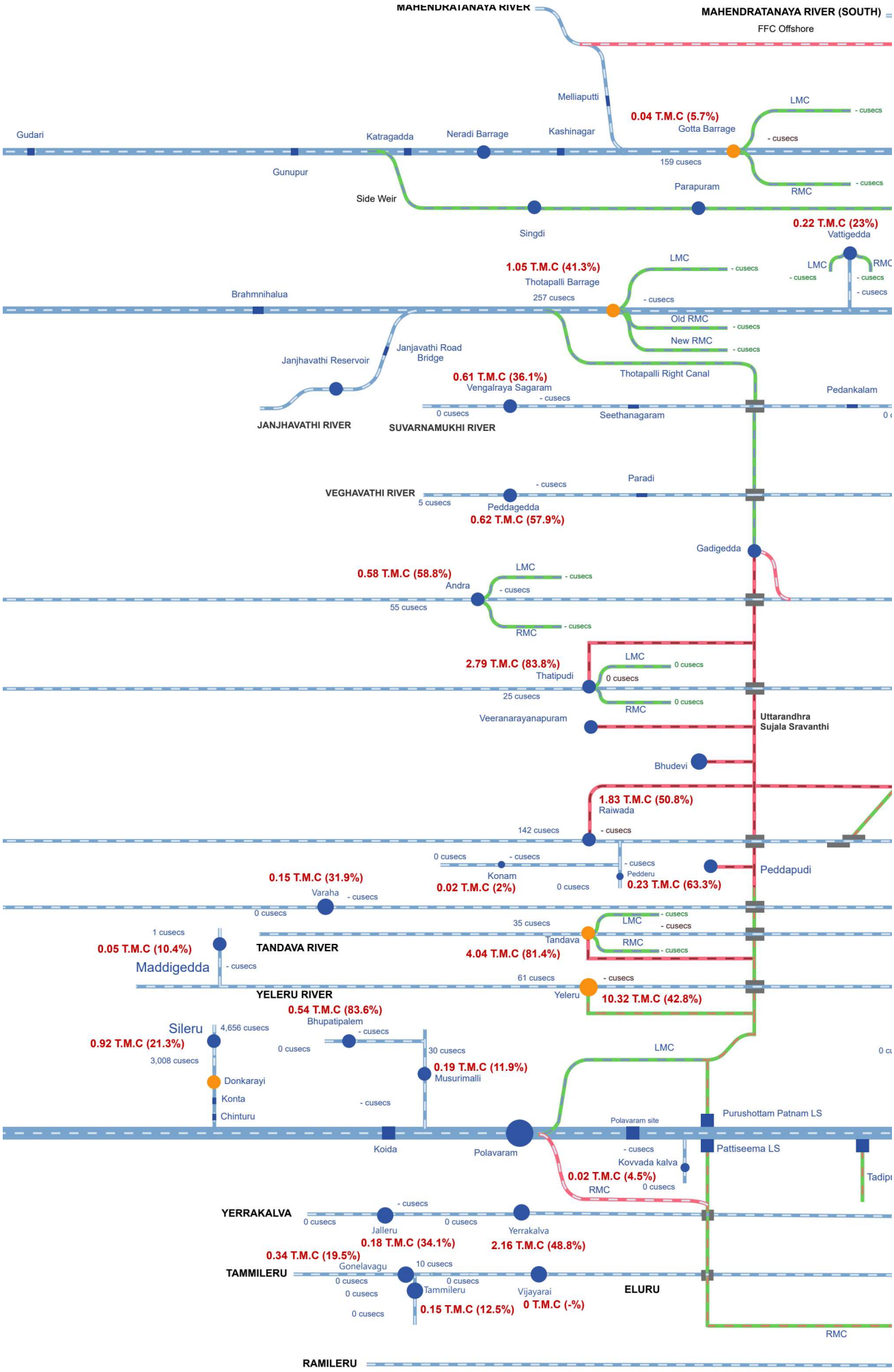
MAHENDRATANAYA RIVER
MAHENDRATANAYA RIVER (SOUTH)
FFC Offshore
Melliaputti
0.04 T.M.C (5.7%)
Gotta Barrage
LMC
- cusecs
Gudari
Katragadda
Neradi Barrage
Kashinagar
159 cusecs
Gunupur
Parapuram
RMC
Side Weir
Singdi
0.22 T.M.C (23%)
Vattigedda
1.05 T.M.C (41.3%)
Thotapalli Barrage
257 cusecs
Brahmnihalua
Old RMC
New RMC
Janjavathi Reservoir
Janjavathi Road Bridge
Thotapalli Right Canal
0.61 T.M.C (36.1%)
Vengalraya Sagaram
Pedankalam
0 cusecs
Seethanagaram
JANJHAVATHI RIVER
SUVARNAMUKHI RIVER
VEGHAVATHI RIVER
Paradi
5 cusecs
Peddagedda
0.62 T.M.C (57.9%)
Gadigedda
0.58 T.M.C (58.8%)
Andra
55 cusecs
2.79 T.M.C (83.8%)
Thatipudi
25 cusecs
Veeranarayanapuram
Uttarandhra Sujala Sravanthi
Bhudevi
1.83 T.M.C (50.8%)
Raiwada
142 cusecs
Konam
0.02 T.M.C (2%)
Pedderu
0.23 T.M.C (63.3%)
Peddapudi
0.15 T.M.C (31.9%)
Varaha
1 cusecs
0.05 T.M.C (10.4%)
Maddigedda
TANDAVA RIVER
35 cusecs
Tandava
4.04 T.M.C (81.4%)
61 cusecs
YELERU RIVER
Yeleru
10.32 T.M.C (42.8%)
0.54 T.M.C (83.6%)
Bhupatipalem
Sileru
4,656 cusecs
0.92 T.M.C (21.3%)
3,008 cusecs
Donkarayi
Konta
Chinturu
30 cusecs
0.19 T.M.C (11.9%)
Musurimalli
Koida
Polavaram
Polavaram site
Purushottam Patnam LS
Pattiseema LS
Kovvada kalva
0.02 T.M.C (4.5%)
YERRAKALVA
Jalleru
0.18 T.M.C (34.1%)
Yerrakalva
2.16 T.M.C (48.8%)
0.34 T.M.C (19.5%)
TAMMILERU
Gonelavagu
10 cusecs
Tammileru
0.15 T.M.C (12.5%)
Vijayarai
0 T.M.C (-%)
ELURU
RAMILERU

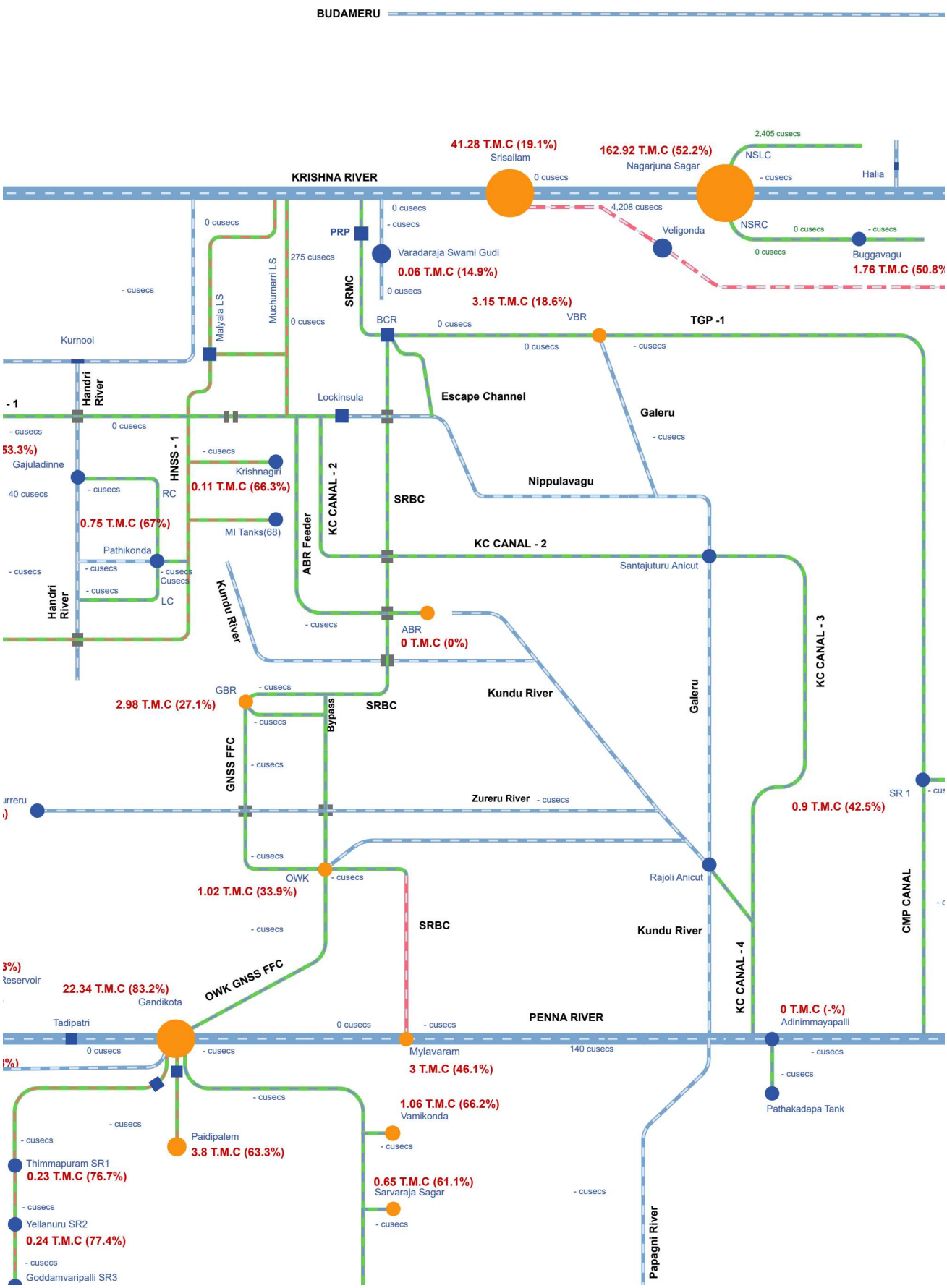
BUDAMERU
KRISHNA RIVER
41.28 T.M.C (19.1%)
Srisailam
162.92 T.M.C (52.2%)
Nagarjuna Sagar
2,405 cusecs
NSLC
Halia
0 cusecs
- cusecs
4,208 cusecs
Veligonda
NSRC
Buggavagu
1.76 T.M.C (50.8%
PRP
Varadaraja Swami Gudi
0.06 T.M.C (14.9%)
275 cusecs
SRMC
3.15 T.M.C (18.6%)
BCR
VBR
TGP -1
Kurnool
Malyala LS
Muchumarri LS
Handri River
Lockinsula
Escape Channel
Galeru
Gajuladinne
HNSS - 1
Krishnagiri
0.11 T.M.C (66.3%)
RC
0.75 T.M.C (67%)
MI Tanks(68)
KC CANAL - 2
SRBC
Nippulavagu
Pathikonda
ABR Feeder
Santajuturu Anicut
Cusecs
LC
Kundu River
ABR
0 T.M.C (0%)
KC CANAL - 3
GBR
2.98 T.M.C (27.1%)
Bypass
GNSS FFC
Zureru River
SR 1
0.9 T.M.C (42.5%)
OWK
1.02 T.M.C (33.9%)
Rajoli Anicut
CMP CANAL
OWK GNSS FFC
22.34 T.M.C (83.2%)
Gandikota
Reservoir
KC CANAL - 4
PENNA RIVER
0 T.M.C (-%)
Adinimmayapalli
Tadipatri
Mylavaram
3 T.M.C (46.1%)
140 cusecs
Pathakadapa Tank
1.06 T.M.C (66.2%)
Vamikonda
Paidipalem
3.8 T.M.C (63.3%)
Thimmapuram SR1
0.23 T.M.C (76.7%)
0.65 T.M.C (61.1%)
Sarvaraja Sagar
Yellanuru SR2
0.24 T.M.C (77.4%)
Goddamvaripalli SR3
Papagni River
© 2022 APWRD . All Rights Reserved.
Powered by
GNSS
Kamalapuram
Papagni River

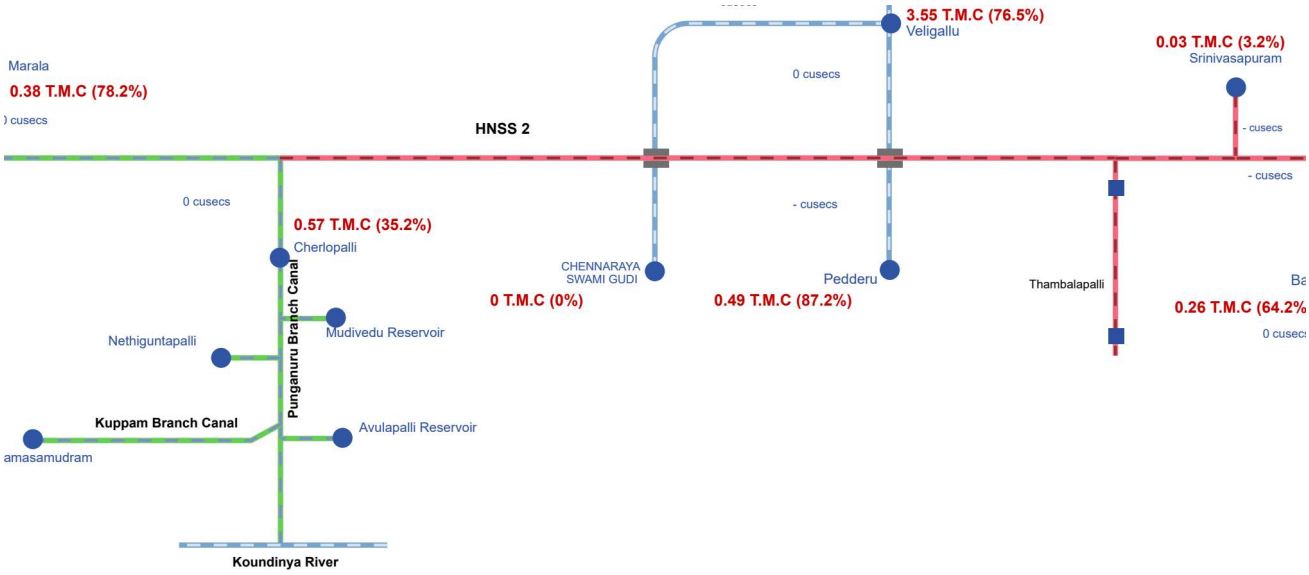
Marala
0.38 T.M.C (78.2%)
) cusecs
HNSS 2
0 cusecs
0.57 T.M.C (35.2%)
Cherlopalli
Punganuru Branch Canal
Mudivedu Reservoir
Nethiguntapalli
Kuppam Branch Canal
amasamudram
Avulapalli Reservoir
Koundinya River
CHENNARAYA SWAMI GUDI
0 T.M.C (0%)
- cusecs
Pedderu
0.49 T.M.C (87.2%)
0 cusecs
3.55 T.M.C (76.5%)
Veligallu
Thambalapalli
0.03 T.M.C (3.2%)
Srinivasapuram
- cusecs
- cusecs
0.26 T.M.C (64.2%
0 cusec